Crime Type

- ASSAULT
- BATTERY
- CRIMINAL DAMAGE
- CRIMINAL TRESPASS
- DECEPTI... PRACTICE
- HOMICIDE
- NARCOT...
- OTHER OFFENSE
- SEXUAL OFFENS...
- THEFT
- VIOLATI...

Year

2001 — 2024

Arrest Status: Arrested

- Arrested
- Not Arrested

Location

- ABANDONED ...
- AIRPORT
- BANK
- CHA PROPERTY
- CHURCH
- COMMERCIAL ...
- CTA PROPERTY
- EDUCATIONAL...
- ENTERTAINME...
- GAS STATION
- GOVERNMENT...
- HEALTH CARE ...
- OFFICE BUILDI...
- OTHER COMM...

Crime Severity

Severe

Total Crimes

3935

Top Crime Location

RESIDENCE

Crime Trend Over Time

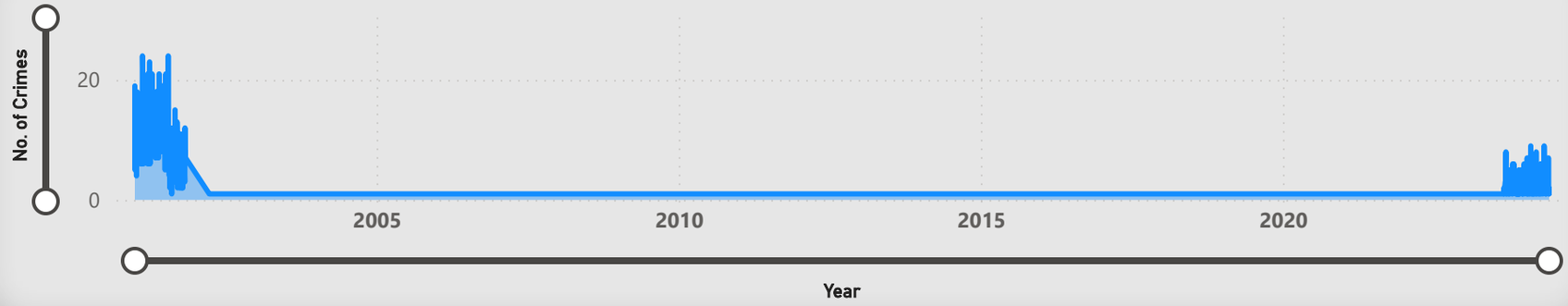

Crime Type Distribution

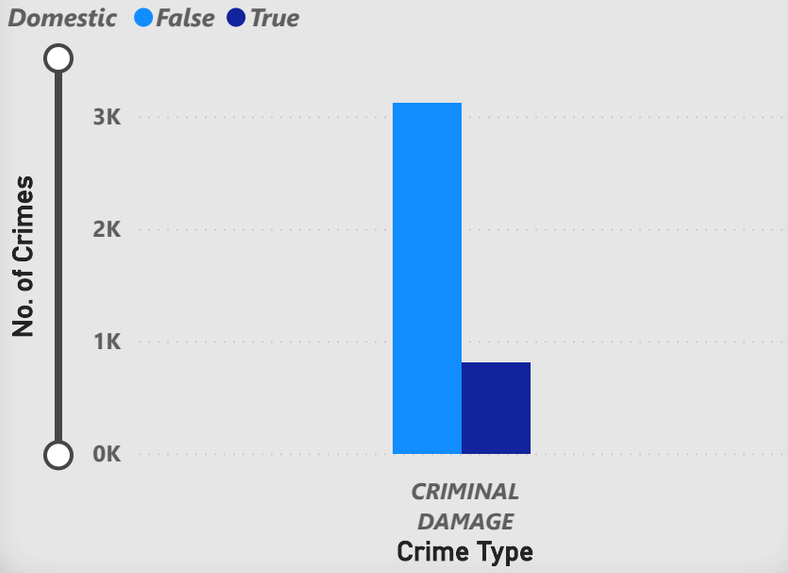

Crime Hotspots

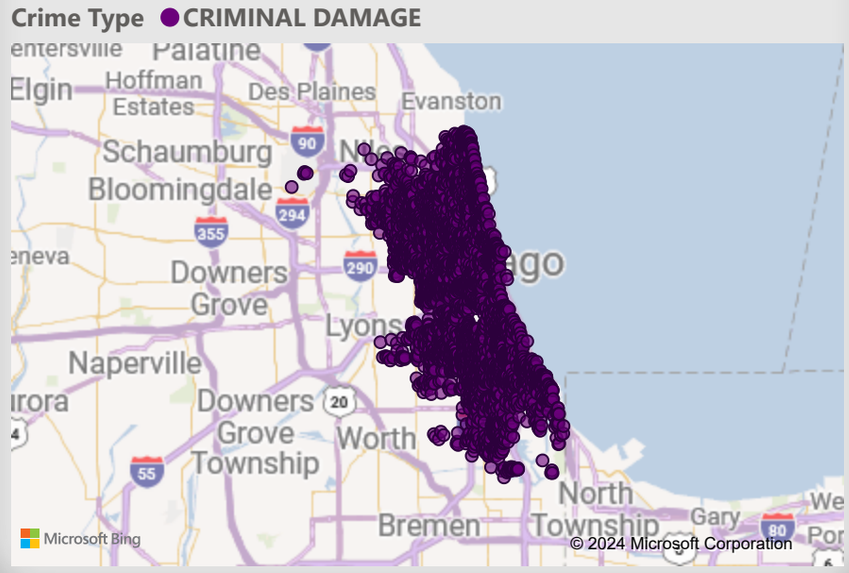

Year

2001 2002

Month

January	April	July	October
February	May	August	November
March	June	September	December

Day

1 31

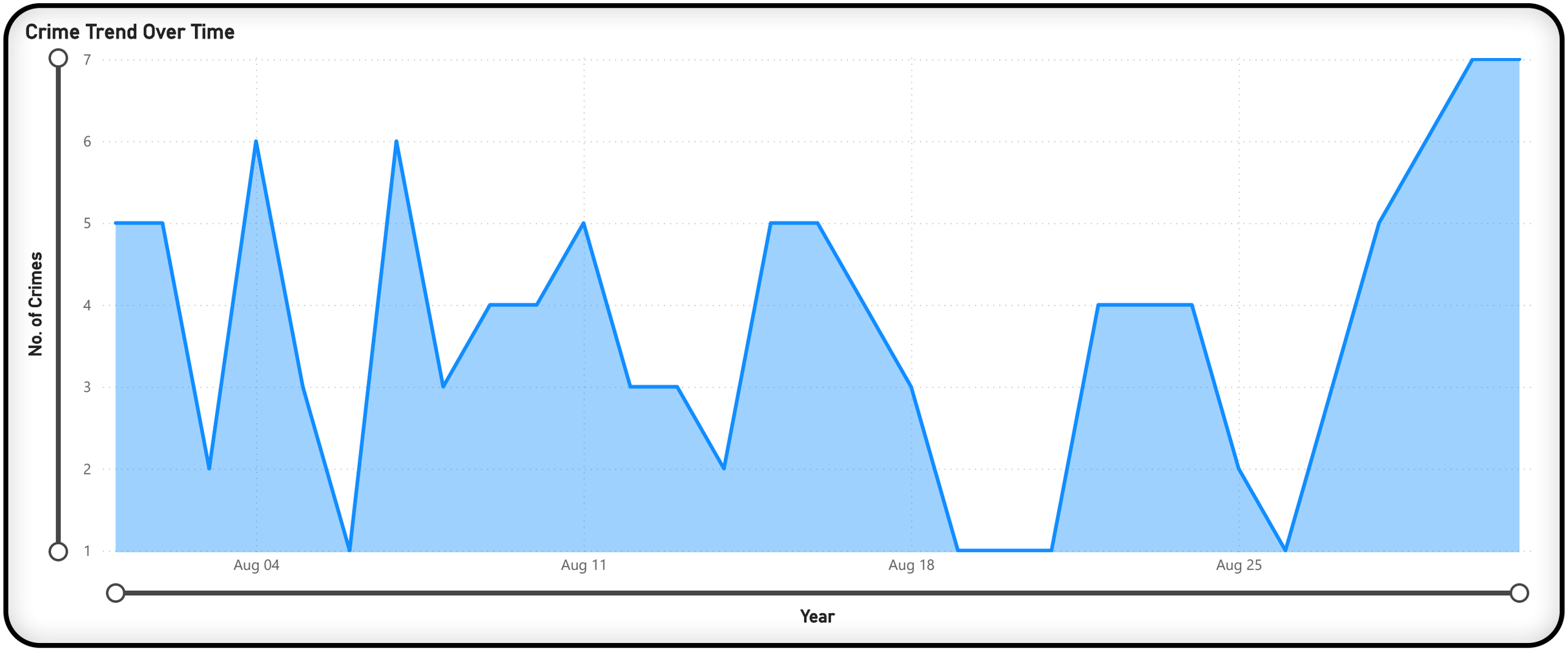

Year	2001													Total
Hour	January	February	March	April	May	June	July	August	September	October	November	December	Total	
0	1715	1411	1725	1985	1999	2190	2099	1167	983	989	109	5	16377	16377
1	1161	1004	1137	1379	1295	1456	1546	830	732	655	76	2	11273	11273
2	896	851	957	1067	1085	1249	1203	625	584	539	73	3	9132	9132
3	767	662	763	853	766	960	962	563	483	408	55	3	7245	7245
4	604	482	527	651	621	772	800	406	347	334	29	4	5577	5577
5	457	392	511	529	469	578	614	318	278	248	26	1	4421	4421
6	488	486	567	532	548	584	624	322	281	280	23	2	4737	4737
7	779	723	861	774	847	750	847	438	435	438	41	1	6934	6934
8	1182	1070	1417	1148	1379	1121	1122	597	642	685	60	2	10425	10425
9	1481	1333	1727	1448	1635	1325	1319	727	796	784	62	5	12642	12642
10	1533	1513	1762	1616	1684	1544	1449	854	876	806	53		13690	13690
11	1628	1517	1897	1661	1850	1615	1555	831	868	854	65	5	14346	14346
12	2068	1968	2422	2102	2310	2136	2082	1139	1033	1048	74	1	18383	18383
13	1869	1656	2114	1888	2001	1908	1702	987	915	930	71	4	16045	16045
14	2016	1878	2218	1976	2103	1884	1754	985	958	1035	77		16884	16884
15	2121	1752	2279	2116	2202	1927	1980	1104	1047	1122	86	2	17738	17738
16	1915	1877	2125	2033	2165	2048	1843	1160	1026	1050	98	1	17341	17341
17	1961	1857	2182	2152	2249	2167	1998	1143	1134	1060	82	1	17986	17986
18	2210	1950	2247	2372	2441	2503	2300	1333	1222	1144	95	5	19822	19822
19	2196	1944	2241	2275	2329	2479	2260	1315	1131	1212	117	4	19503	19503
20	2241	2016	2355	2280	2421	2415	2341	1267	1214	1301	93	2	19946	19946
21	2190	1859	2186	2346	2310	2454	2326	1352	1222	1196	85	6	19532	19532
22	2035	1795	2108	2369	2472	2508	2403	1363	1195	1205	109	5	19567	19567
23	1713	1407	1764	1958	1996	2171	2068	1149	950	962	84	3	16225	16225
Total	37226	33403	40092	39510	41177	40744	39197	21975	20352	20285	1743	67	335771	335771

Crime Type

- ASSAULT
- BATTERY
- CRIMINAL DAMAGE
- CRIMINAL TRESPASS
- DECEPTIVE PRACTICE
- HOMICIDE
- NARCOTICS
- OTHER OFFENSE
- SEXUAL OFFENSE / PROSTITUTION
- THEFT
- VIOLATIONS

Crime Hotspots

Crime Type ● NARCOTICS

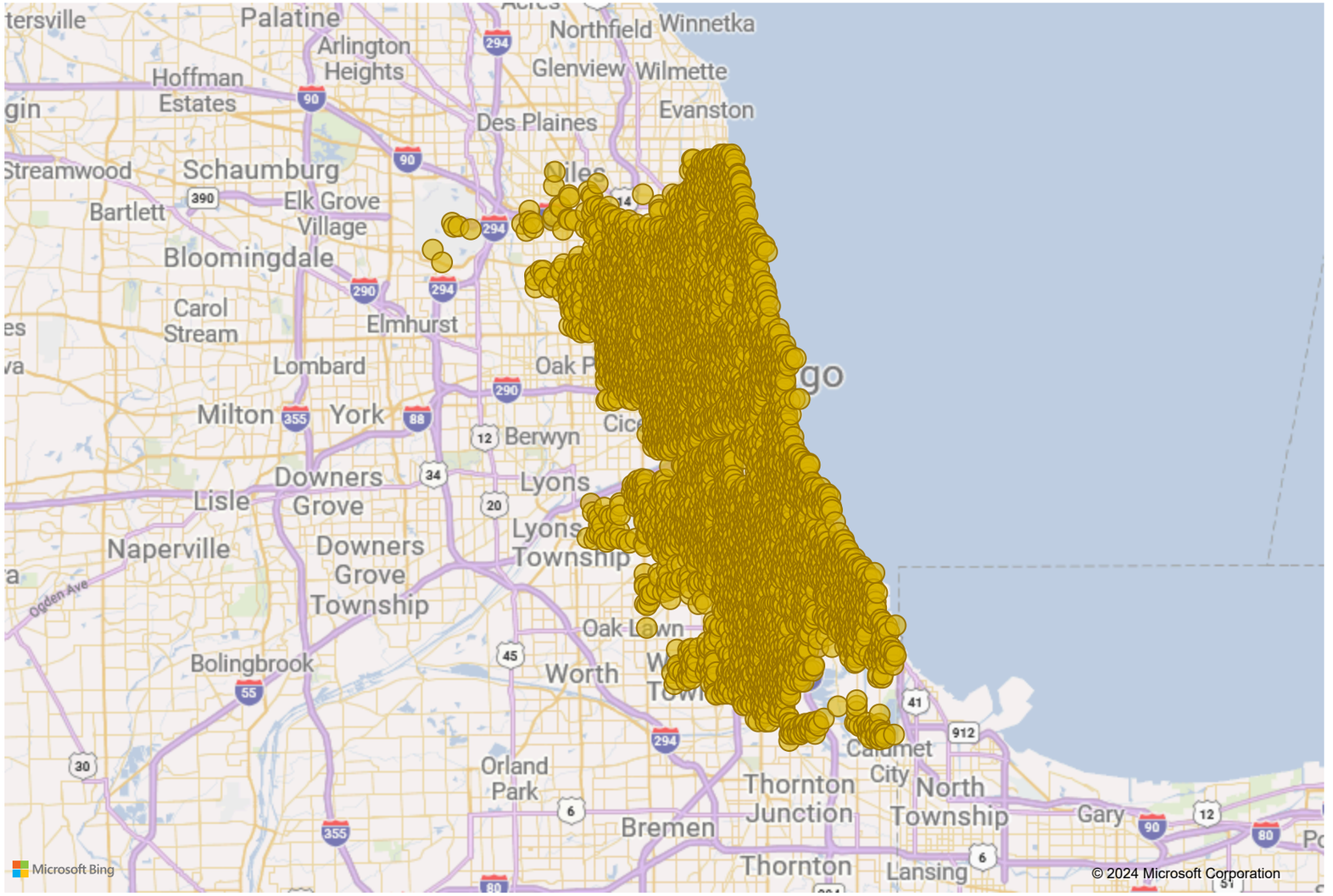

District

1	15
2	16
3	17
4	18
5	19
6	20
7	22
8	24
9	25
10	31
11	
12	
14	

District Analysis

District ● 3 ● 19 ● 25

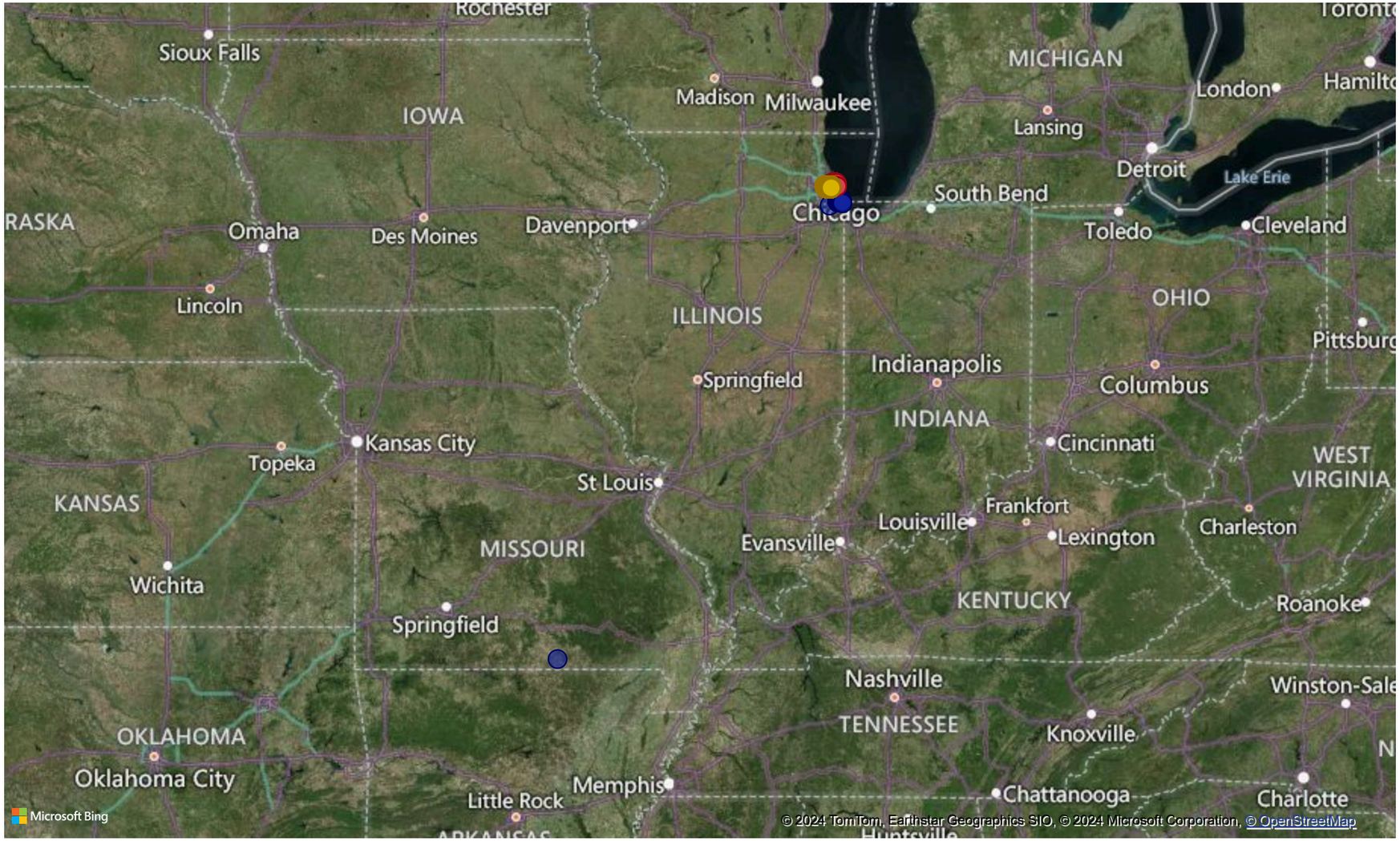

Crime Types Distribution

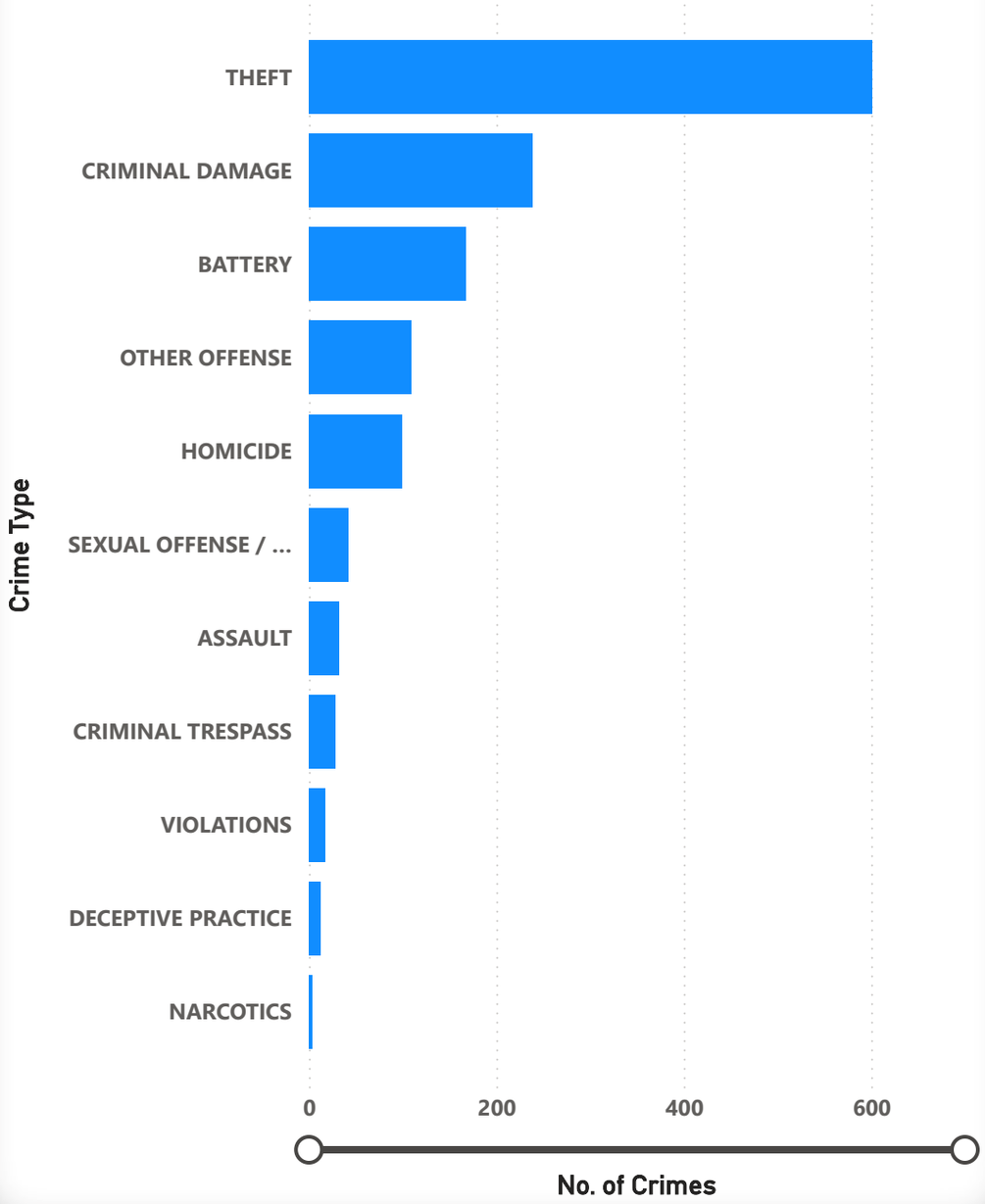

Pie Chart Distribution

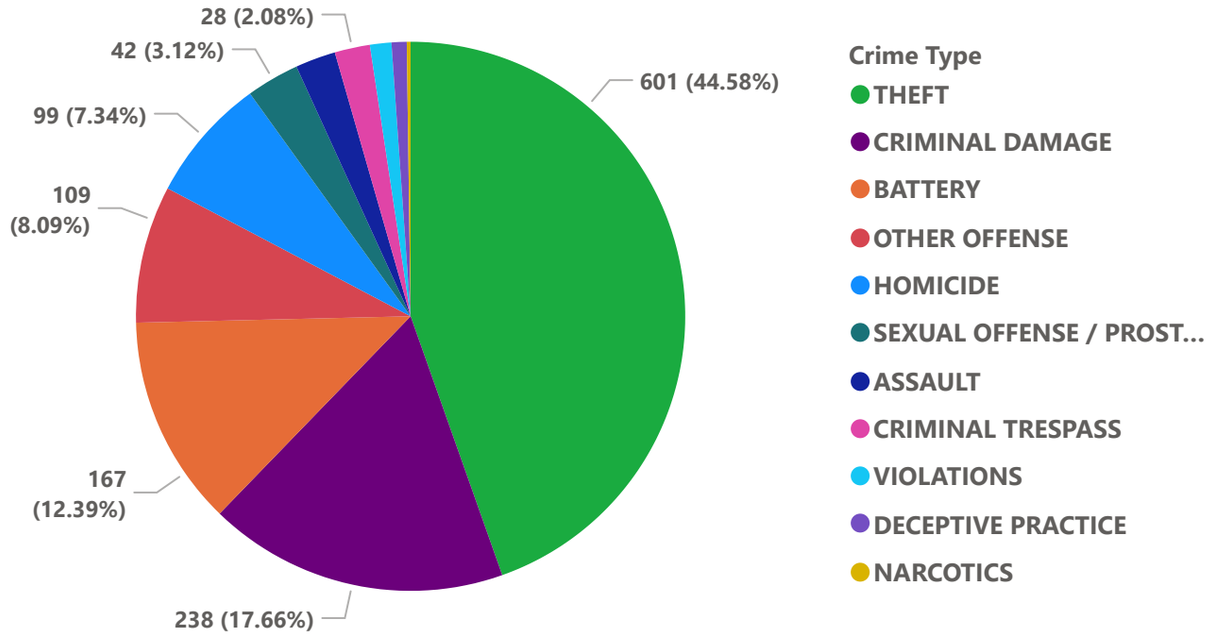

Arrest Status

- Arrested
- Not Arrested

Location

- ABANDONED AREA
- AIRPORT
- BANK
- CHA PROPERTY
- CHURCH

Crime Type Severity

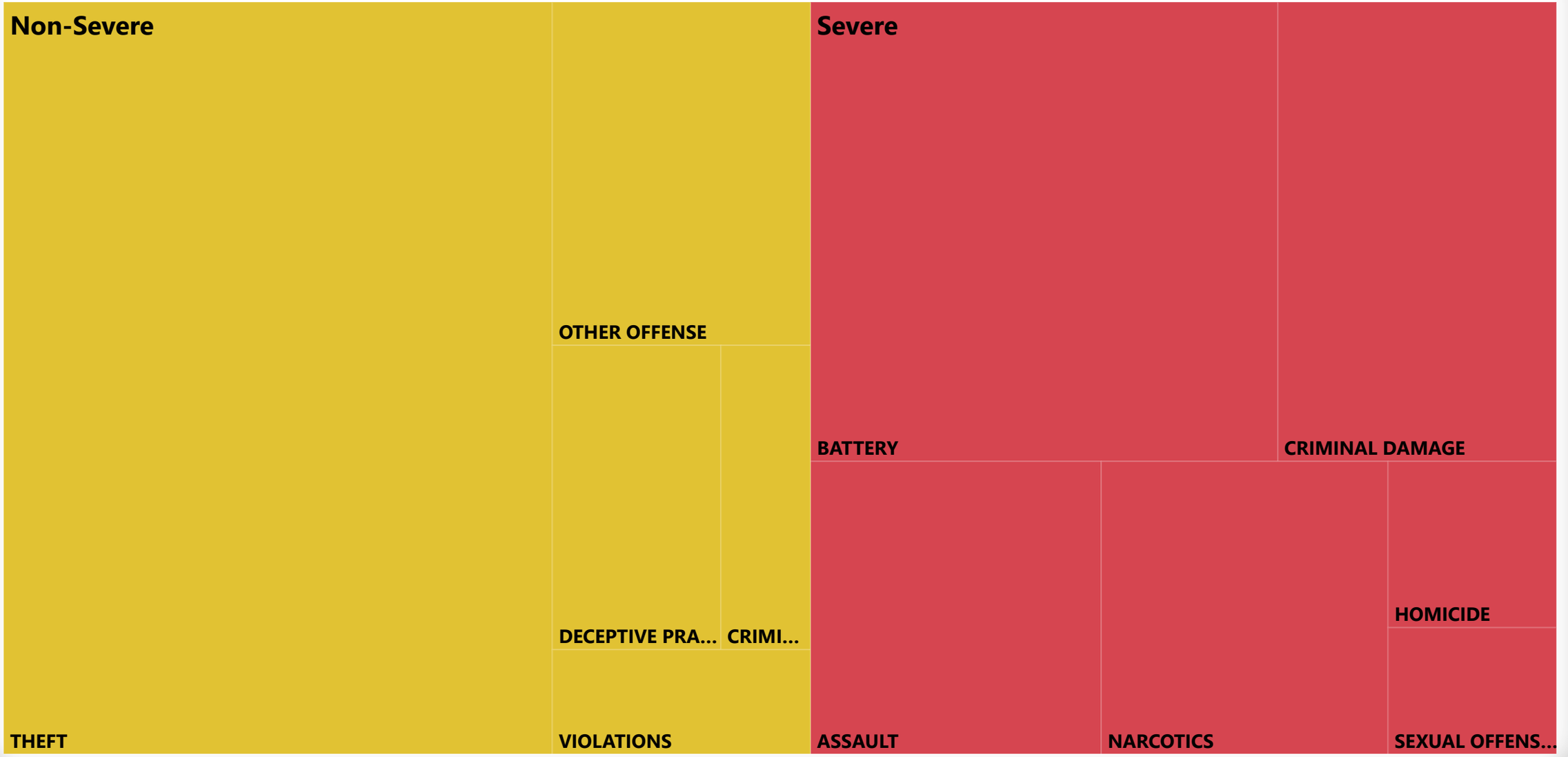

Crime Arrest Rates

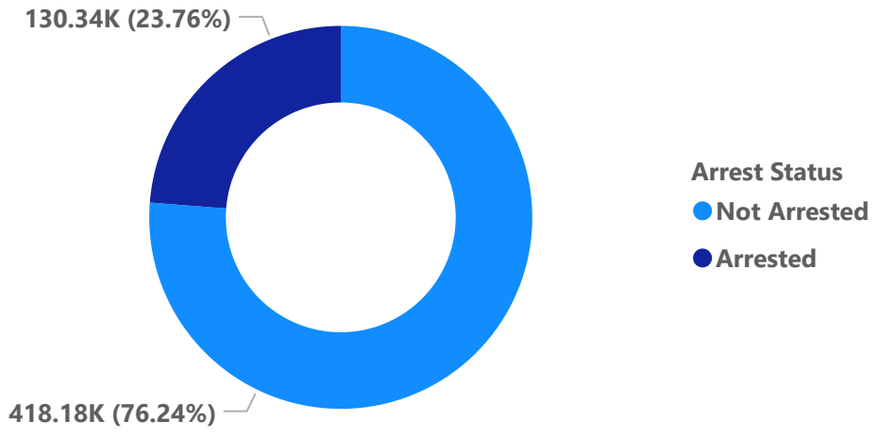

Arrest Rate by Crime Type

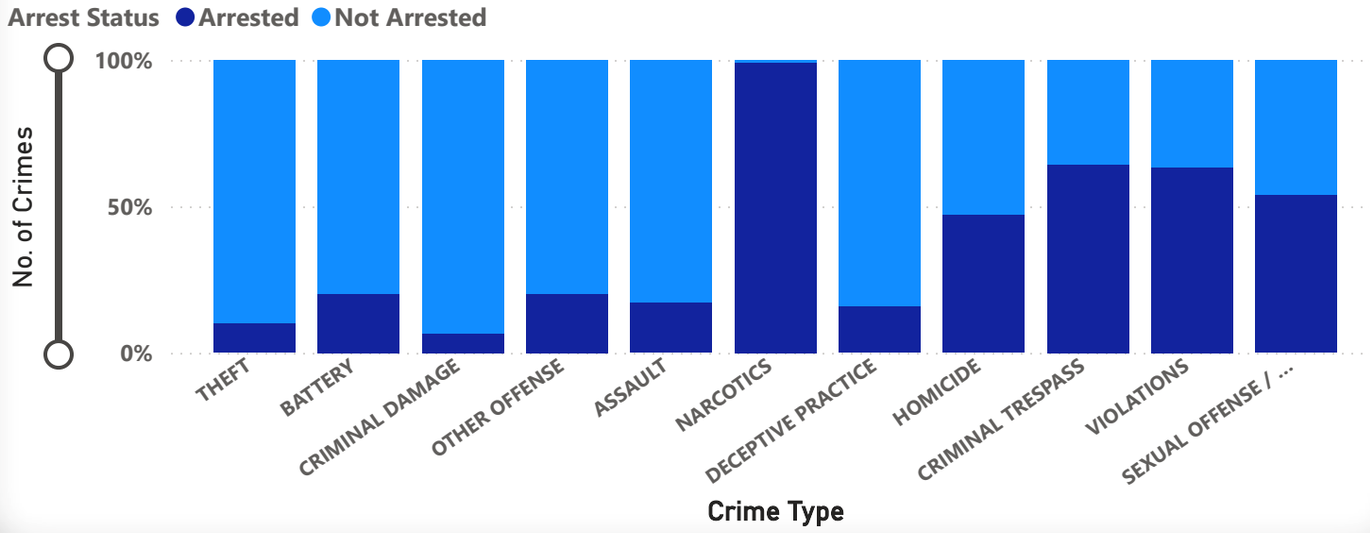

Arrest Rate by Location

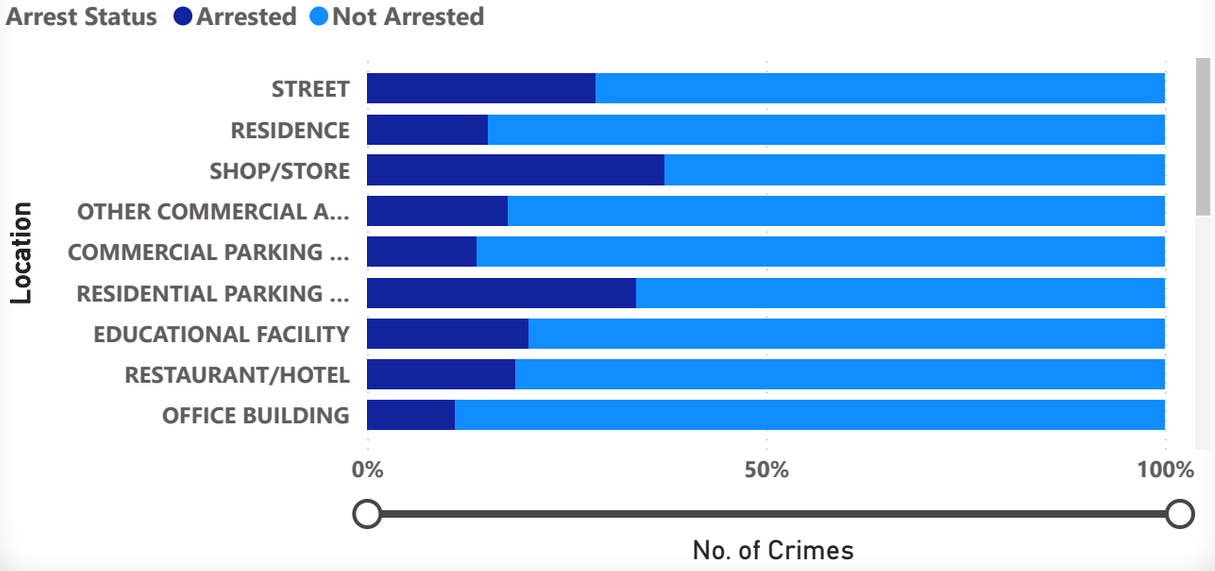

Arrest Trend Over Time

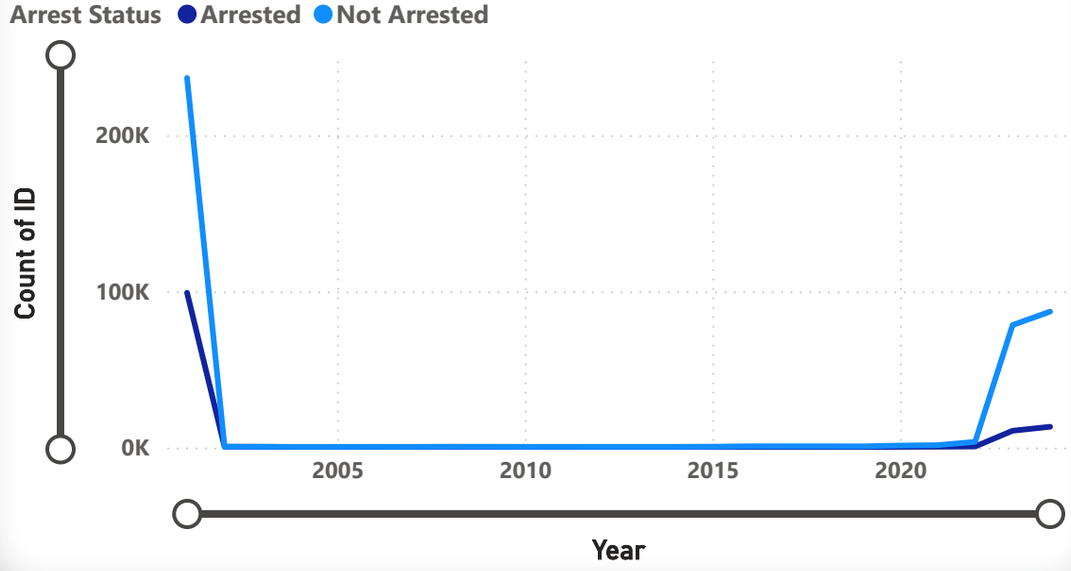

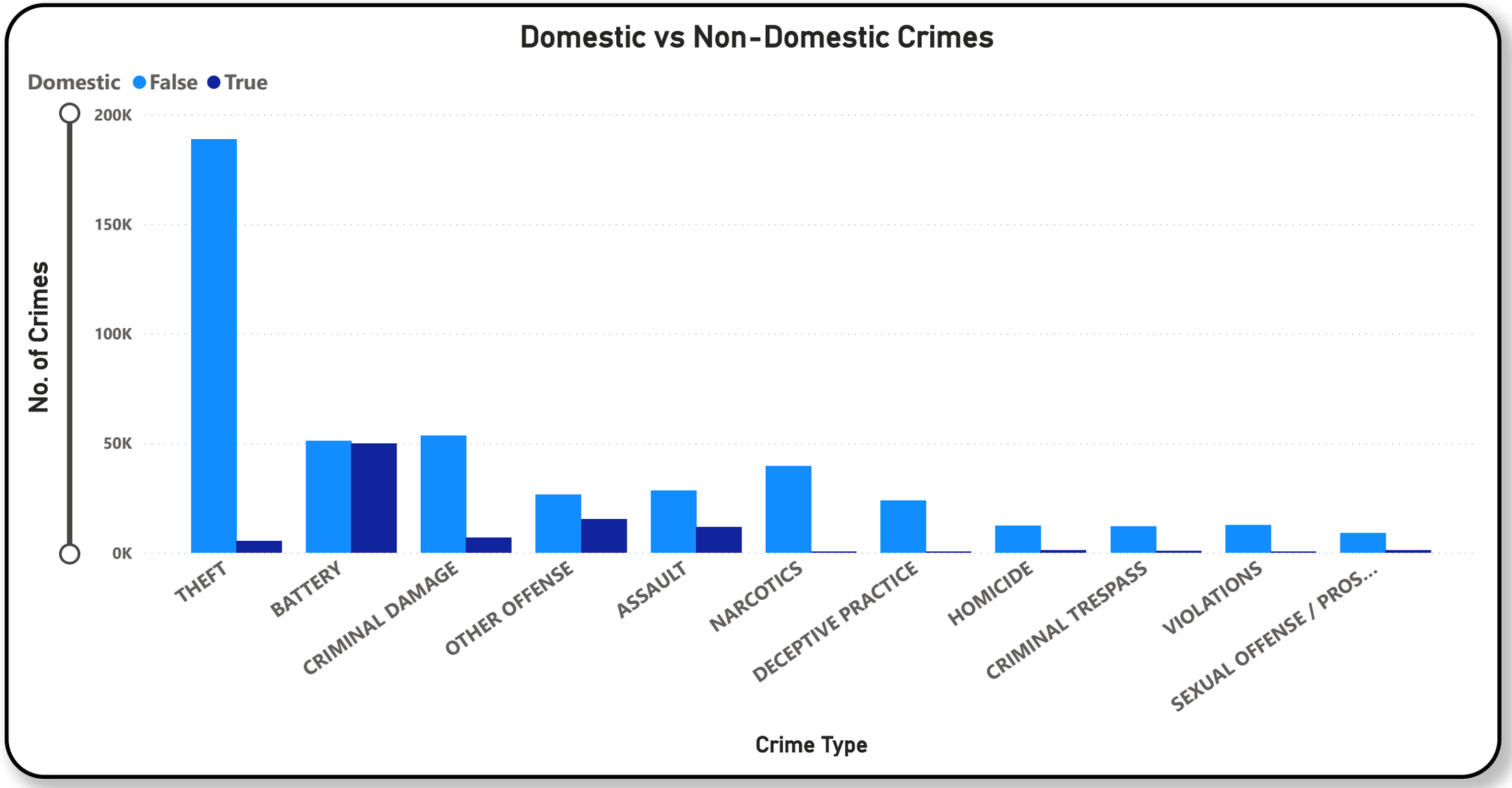
Domestic vs Non-Domestic Crimes
Domestic
False
True
No. of Crimes
200K
150K
100K
50K
0K
THEFT
BATTERY
CRIMINAL DAMAGE
OTHER OFFENSE
ASSAULT
NARCOTICS
DECEPTIVE PRACTICE
HOMICIDE
CRIMINAL TRESPASS
VIOLATIONS
SEXUAL OFFENSE / PROS...
Crime Type

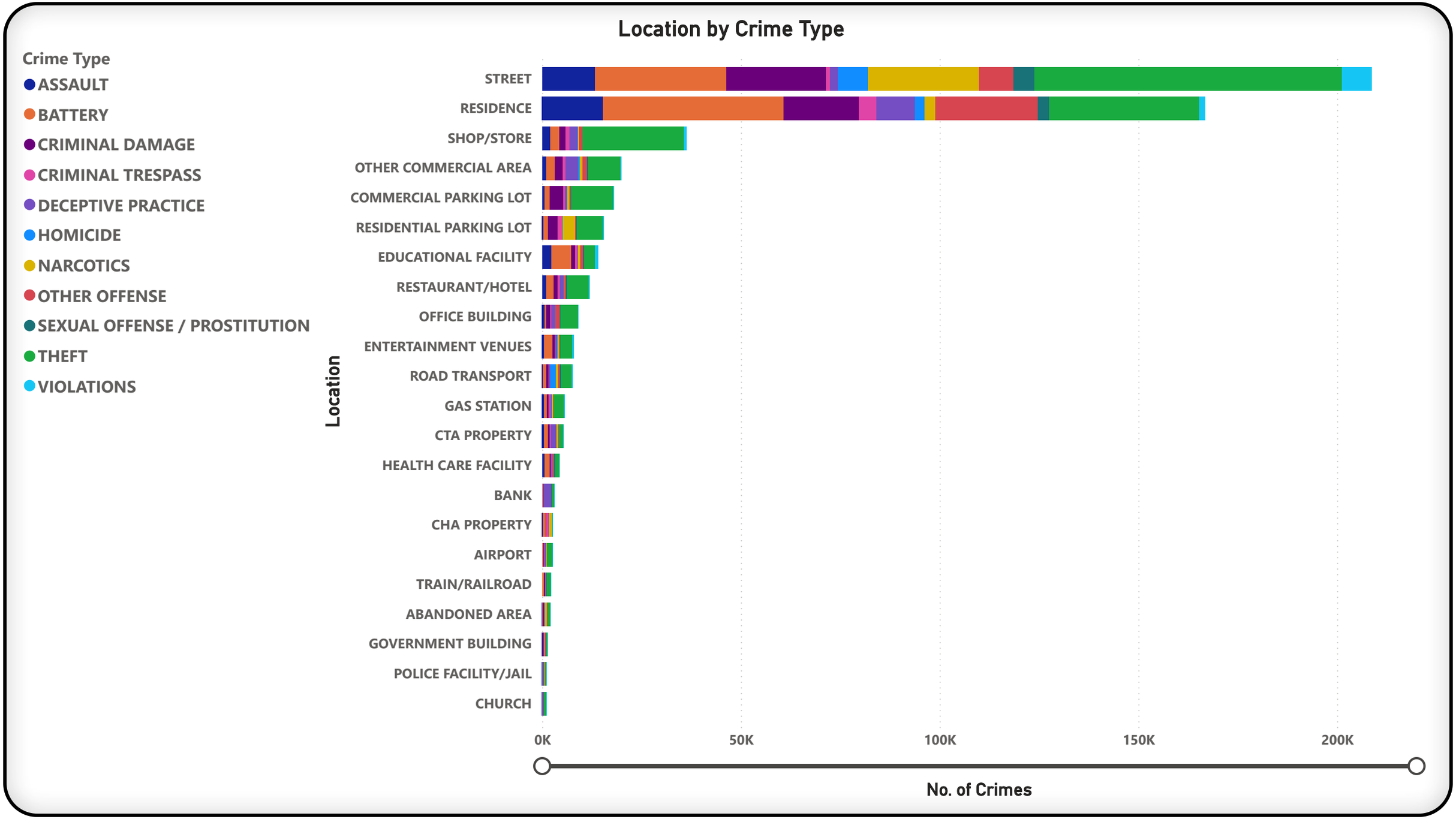
Location by Crime Type
Crime Type
ASSAULT
BATTERY
CRIMINAL DAMAGE
CRIMINAL TRESPASS
DECEPTIVE PRACTICE
HOMICIDE
NARCOTICS
OTHER OFFENSE
SEXUAL OFFENSE / PROSTITUTION
THEFT
VIOLATIONS
Location
STREET
RESIDENCE
SHOP/STORE
OTHER COMMERCIAL AREA
COMMERCIAL PARKING LOT
RESIDENTIAL PARKING LOT
EDUCATIONAL FACILITY
RESTAURANT/HOTEL
OFFICE BUILDING
ENTERTAINMENT VENUES
ROAD TRANSPORT
GAS STATION
CTA PROPERTY
HEALTH CARE FACILITY
BANK
CHA PROPERTY
AIRPORT
TRAIN/RAILROAD
ABANDONED AREA
GOVERNMENT BUILDING
POLICE FACILITY/JAIL
CHURCH
0K
50K
100K
150K
200K
No. of Crimes

Location

- ☐ ABANDONED AREA
- ☐ AIRPORT
- ☐ BANK
- ☐ CHA PROPERTY
- ☐ CHURCH
- ☐ COMMERCIAL PARKING LOT
- ☐ CTA PROPERTY
- ☐ EDUCATIONAL FACILITY
- ☐ ENTERTAINMENT VENUES
- ☐ GAS STATION
- ☐ GOVERNMENT BUILDING
- ■ HEALTH CARE FACILITY
- ☐ OFFICE BUILDING
- ☐ OTHER COMMERCIAL AREA
- ☐ POLICE FACILITY/JAIL
- ☐ RESIDENCE
- ☐ RESIDENTIAL PARKING LOT
- ☐ RESTAURANT/HOTEL
- ☐ ROAD TRANSPORT
- ☐ SHOP/STORE
- ☐ STREET
- ☐ TRAIN/RAILROAD

Location Mapping

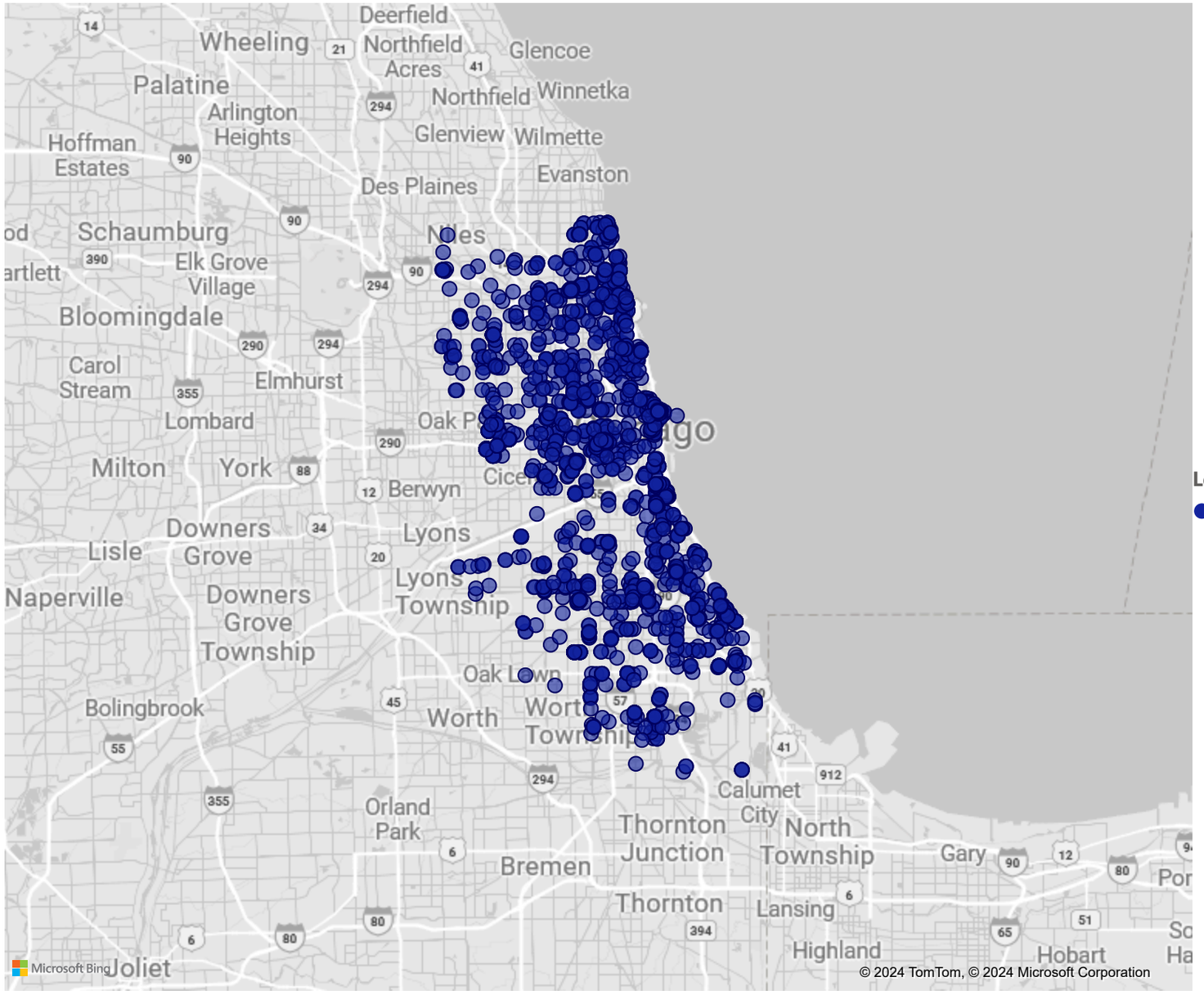

Location
● HEALTH CARE FACILITY

Beat

111 2535

Beat Mapping

Beat 111 112 113 114 121 122 123 124 131 132 133 134 211 212 213 214 215 221 222 223 224 225 231 232 233 234 235 310 311

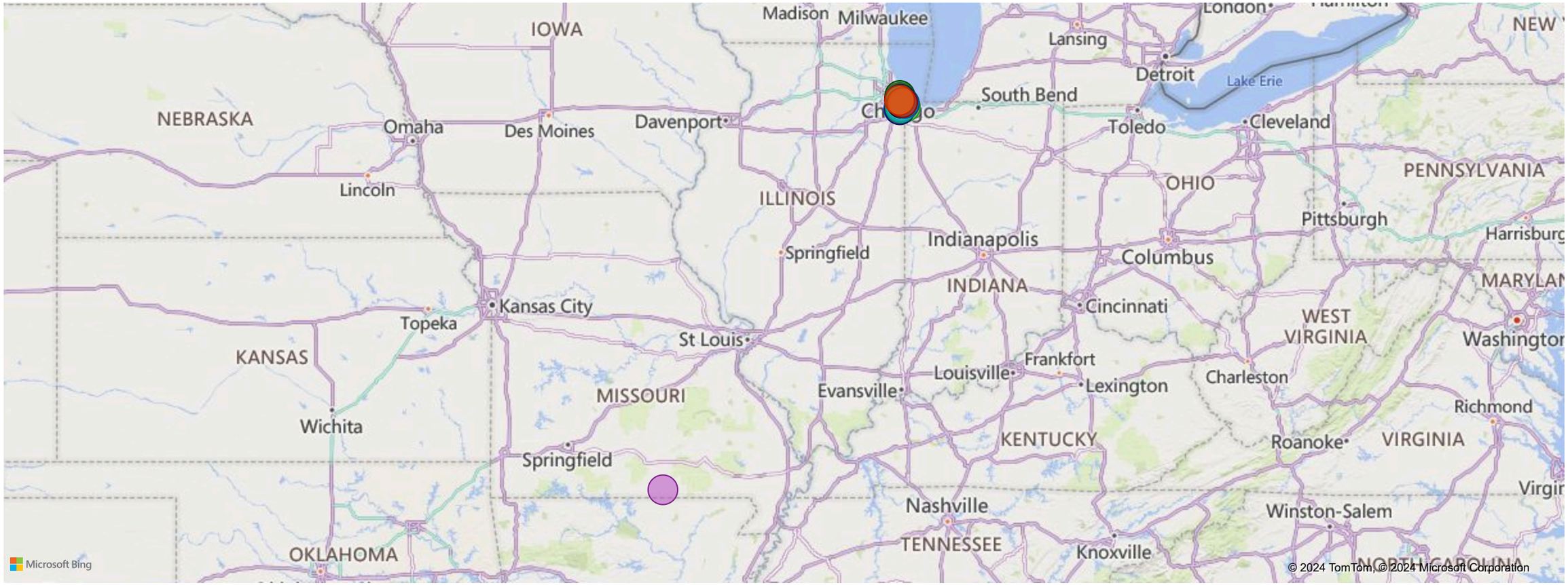

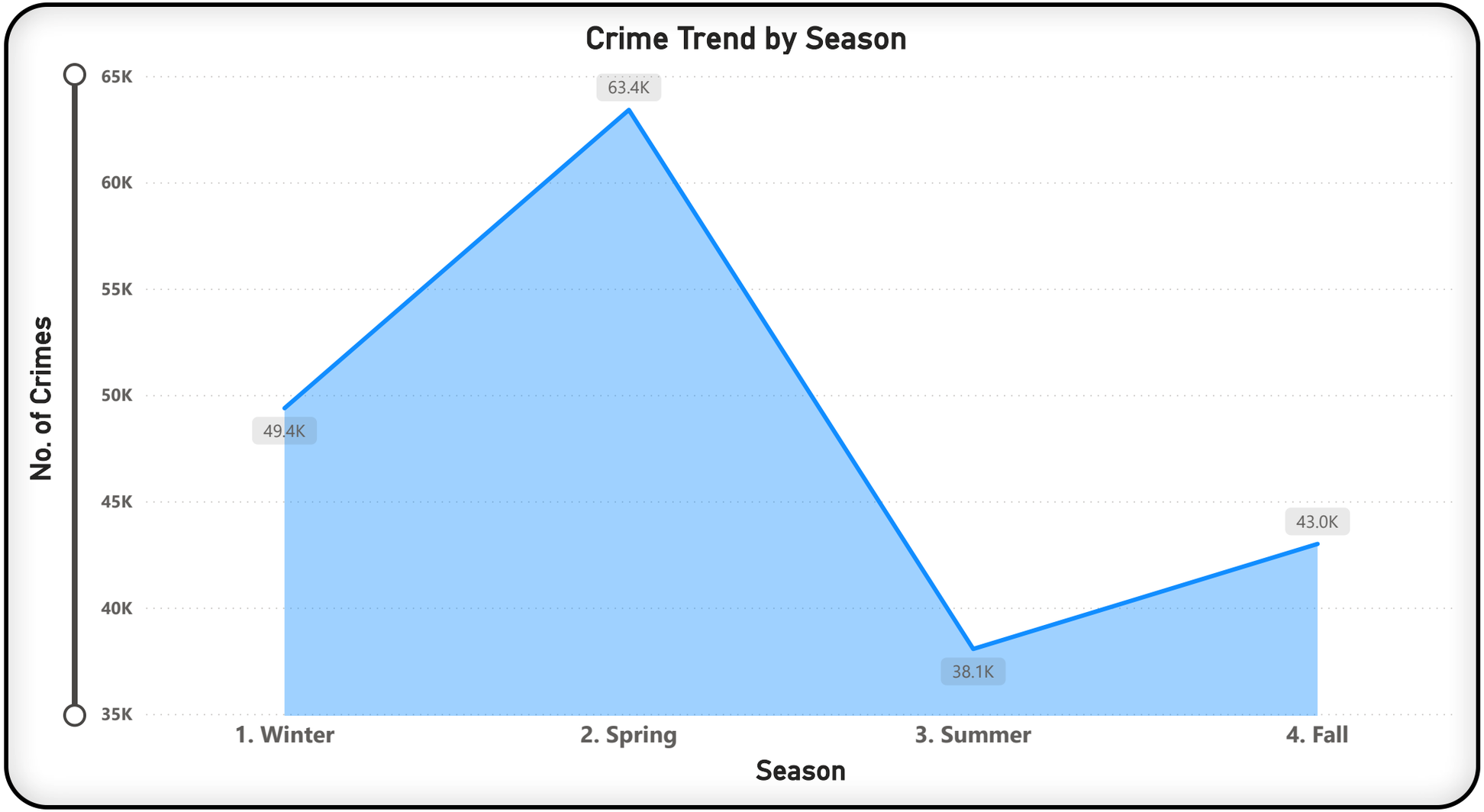

Year

2001	2012	2023
2002	2013	2024
2003	2014	
2004	2015	
2005	2016	
2006	2017	
2007	2018	
2008	2019	
2009	2020	
2010	2021	
2011	2022	

Crime Type

ASSAULT	CRIMINAL DAMAGE	DECEPTIVE PRACTICE	NARCOTICS	SEXUAL OFFENSE / PROSTITUTION	VIOLATIONS
BATTERY	CRIMINAL TRESPASS	HOMICIDE	OTHER OFFENSE	THEFT	